Rock Falls Dr, McKinney, TX 75071

Prepared for you by Nimbus General Contractors, LLC

Nimbus General Contractors, LLC
1308 Caney Creek Lane
McKinney, TX 75071

DUSTIN MOORE
tel.214-612-6696
email:dustin@nimbusroofing.com
www.nimbusroofing.com

Measurements provided by eagleview™

Precise Aerial Roof Measurement Report

Rock Falls Dr, McKinney, TX 75071

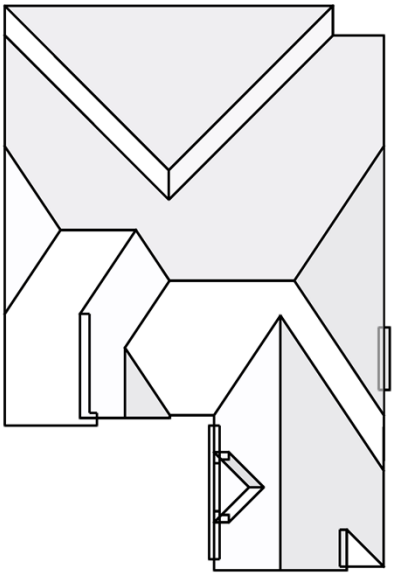

In this 3D model, facets appear as semi-transparent to reveal overhangs.

Report Details

Report:65792289

Roof/Wall Details

Total Roof Area =4,316 sq ft
Total Roof Facets =18
Predominant Pitch =8/12
Number of Stories <=1
Total Ridges/Hips =276 ft
Total Valleys =162 ft
Total Rakes =117 ft
Total Eaves =231 ft
Estimated Attic = 3,391 sq ft
Total Wall Area = 3802.0 sq ft
Total Wall Facets = 30
Total Penetrations =27
Total Penetrations Perimeter = 132 ft
Total Penetrations Area = 45 sq ft
Total Siding Area = 0.0 sq ft
Total Masonry Area = 3802.0 sq ft

Report Contents

Images 2
Structure Number Labels.....5
Length Diagram.....6
Pitch Diagram.....7
Area Diagram 8
Notes Diagram 9
Penetrations Diagram.....10
3D Wall Area Diagram 11
Alternate 3D Wall View.....13
Window and Door Diagram.....15
Elevation Diagrams 17
Report Summary.....22
Wall Measurement Summary 24

eagleview

Disclaimer: This report was produced using EagleView Extended Coverage Technology. Due to a variety of reasons including but not limited to tree coverage, poor images, low photo resolution or other blockages, this report DOES NOT offer an accuracy guarantee. EagleView recommends that anyone using this report field verify the measurements.
Measurements provided by EagleView

© 2008-2025 Eagle View Technologies, Inc. and Pictometry International Corp. – All Rights Reserved – Covered by one or more of U.S. Patent Nos. 8,078,436; 8,145,578; 8,170,840; 8,209,152; 8,515,125; 8,825,454; 9,135,737; 8,670,961; 9,514,568; 8,818,770; 8,542,880; 9,244,589; 9,329,749. Other Patents Pending.

Images

The following aerial images show different angles of this structure for your reference.

Disclaimer: This report was produced using EagleView Extended Coverage Technology. Due to a variety of reasons including, but not limited to: tree coverage, poor images, low photo resolution or other blockages; this report DOES NOT offer an accuracy guarantee. EagleView recommends that anyone using this report field verify the yellow-shaded sections.

© 2008-2025 Eagle View Technologies, Inc. and Pictometry International Corp. – All Rights Reserved – Covered by one or more of U.S. Patent Nos. 8,078,436; 8,145,578; 8,170,840; 8,209,152; 8,515,125; 8,825,454; 9,135,737; 8,670,961; 9,514,568; 8,818,770; 8,542,880; 9,244,589; 9,329,749. Other Patents Pending.

Disclaimer: This report was produced using EagleView Extended Coverage Technology. Due to a variety of reasons including, but not limited to: tree coverage, poor images, low photo resolution or other blockages; this report DOES NOT offer an accuracy guarantee. EagleView recommends that anyone using this report field verify the yellow-shaded sections.

North Side



South Side



© 2008-2025 Eagle View Technologies, Inc. and Pictometry International Corp. – All Rights Reserved – Covered by one or more of U.S. Patent Nos. 8,078,436; 8,145,578; 8,170,840; 8,209,152; 8,515,125; 8,825,454; 9,135,737; 8,670,961; 9,514,568; 8,818,770; 8,542,880; 9,244,589; 9,329,749. Other Patents Pending.

Disclaimer: This report was produced using EagleView Extended Coverage Technology. Due to a variety of reasons including, but not limited to: tree coverage, poor images, low photo resolution or other blockages; this report DOES NOT offer an accuracy guarantee. EagleView recommends that anyone using this report field verify the yellow-shaded sections.

East Side



West Side



© 2008-2025 Eagle View Technologies, Inc. and Pictometry International Corp. – All Rights Reserved – Covered by one or more of U.S. Patent Nos. 8,078,436; 8,145,578; 8,170,840; 8,209,152; 8,515,125; 8,825,454; 9,135,737; 8,670,961; 9,514,568; 8,818,770; 8,542,880; 9,244,589; 9,329,749. Other Patents Pending.

Structure Number Labels

© 2008-2025 Eagle View Technologies, Inc. and Pictometry International Corp. – All Rights Reserved – Covered by one or more of U.S. Patent Nos. 8,078,436; 8,145,578; 8,170,840; 8,209,152; 8,515,125; 8,825,454; 9,135,737; 8,670,961; 9,514,568; 8,818,770; 8,542,880; 9,244,589; 9,329,749. Other Patents Pending.

Length Diagram

Shaded areas should be verified

Total Line Lengths:
Ridges = 78 ft
Hips = 198 ft
Valleys = 162 ft
Rakes = 117 ft
Eaves = 231 ft
Flashing = 33 ft
Step flashing = 30 ft
Parapets = 0 ft

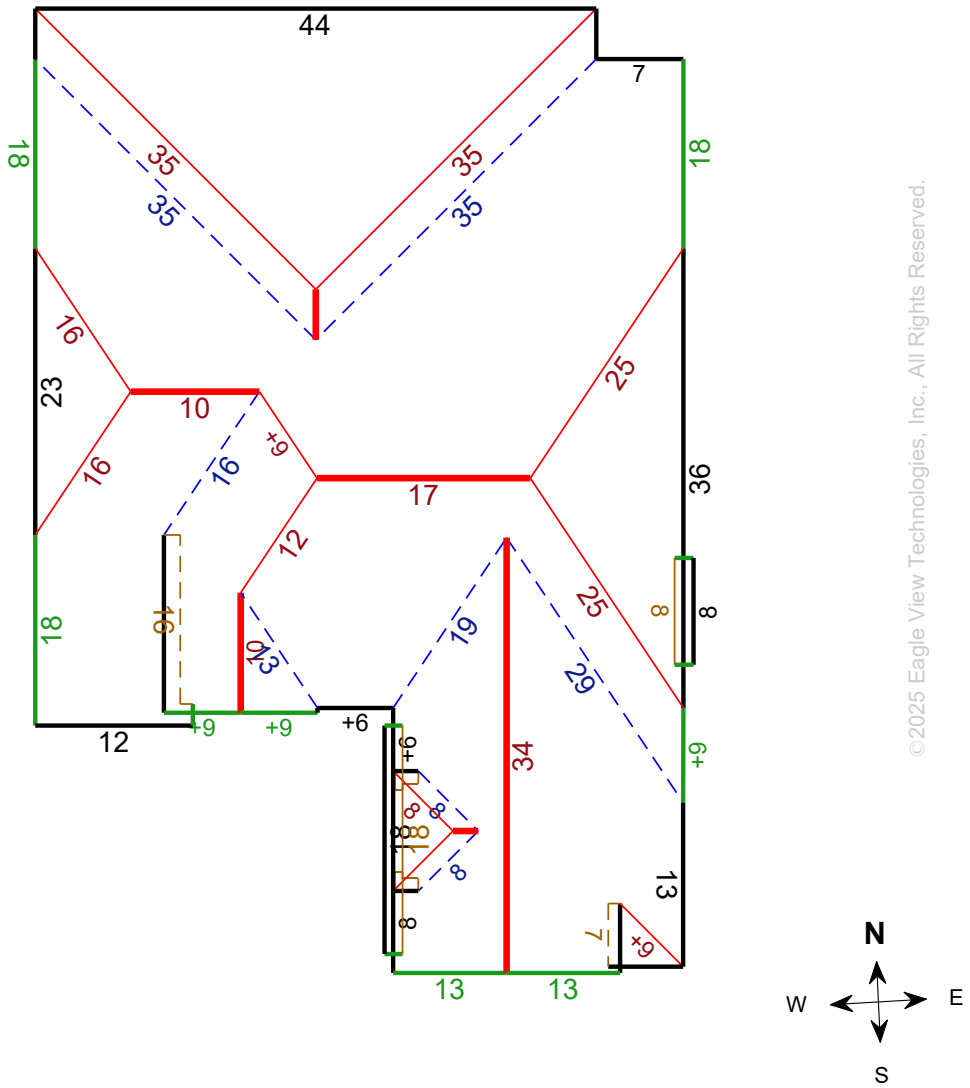

©2025 Eagle View Technologies, Inc., All Rights Reserved.

Note: This diagram contains segment lengths (rounded to the nearest whole number) over 5 feet. In some cases, segment labels have been removed for readability. Plus signs preface some numbers to avoid confusion when rotated (e.g. +6 and +9).

Disclaimer: This report was produced using EagleView Extended Coverage Technology. Due to a variety of reasons including, but not limited to: tree coverage, poor images, low photo resolution or other blockages; this report DOES NOT offer an accuracy guarantee. EagleView recommends that anyone using this report field verify the yellow-shaded sections.

© 2008-2025 Eagle View Technologies, Inc. and Pictometry International Corp. – All Rights Reserved – Covered by one or more of U.S. Patent Nos. 8,078,436; 8,145,578; 8,170,840; 8,209,152; 8,515,125; 8,825,454; 9,135,737; 8,670,961; 9,514,568; 8,818,770; 8,542,880; 9,244,589; 9,329,749. Other Patents Pending.

Pitch Diagram

Pitch values are shown in inches per foot and arrows indicate slope direction. The predominant pitch on this roof is 8/12.

Disclaimer: With Extended Coverage, only the predominant pitch may be noted due to resolution of photo. Refer to pitch table for more information.

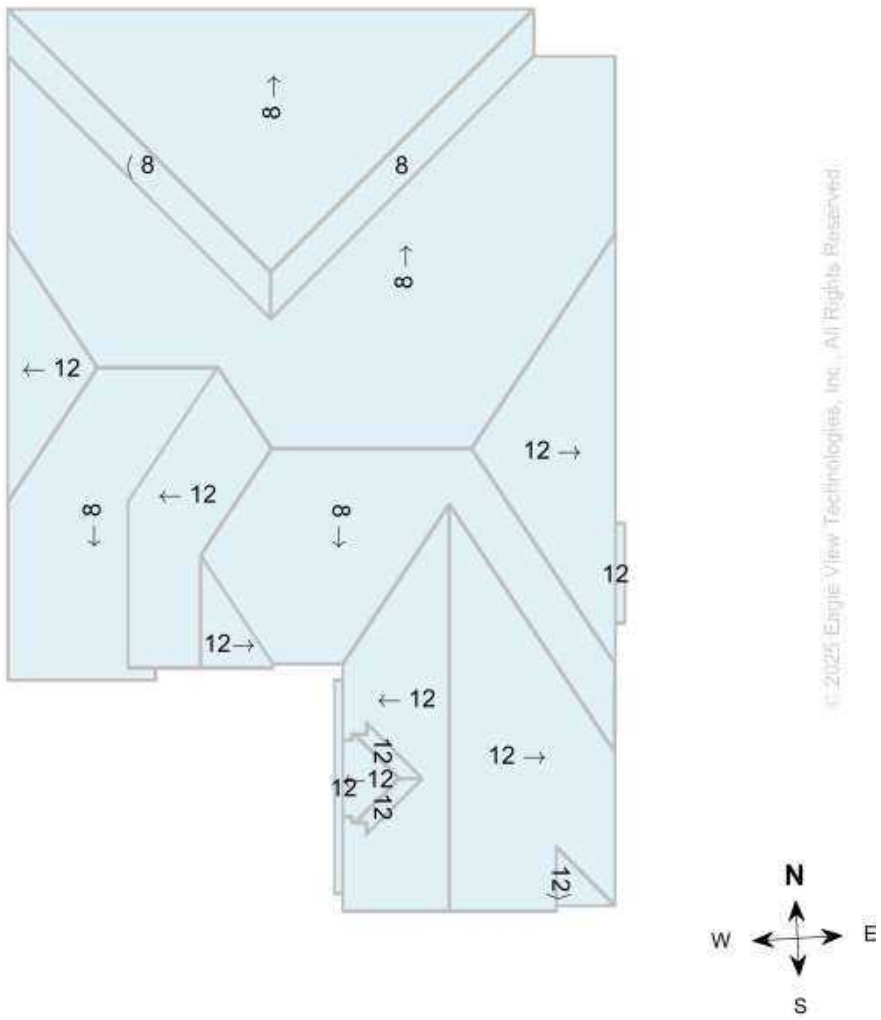

Note: This diagram contains labeled pitches for facet areas larger than 20 square feet In some cases, pitch labels have been removed for readability. Plus signs preface some numbers to avoid confusion when rotated (e.g. +6 and +9). Blue shading indicates a pitch of 3/12 and greater.

Disclaimer: This report was produced using EagleView Extended Coverage Technology. Due to a variety of reasons including, but not limited to: tree coverage, poor images, low photo resolution or other blockages; this report DOES NOT offer an accuracy guarantee. EagleView recommends that anyone using this report field verify the yellow-shaded sections.

© 2008-2025 Eagle View Technologies, Inc. and Pictometry International Corp. – All Rights Reserved – Covered by one or more of U.S. Patent Nos. 8,078,436; 8,145,578; 8,170,840; 8,209,152; 8,515,125; 8,825,454; 9,135,737; 8,670,961; 9,514,568; 8,818,770; 8,542,880; 9,244,589; 9,329,749. Other Patents Pending.

Area Diagram

Total Area = 4,316 sq ft, with 18 facets.

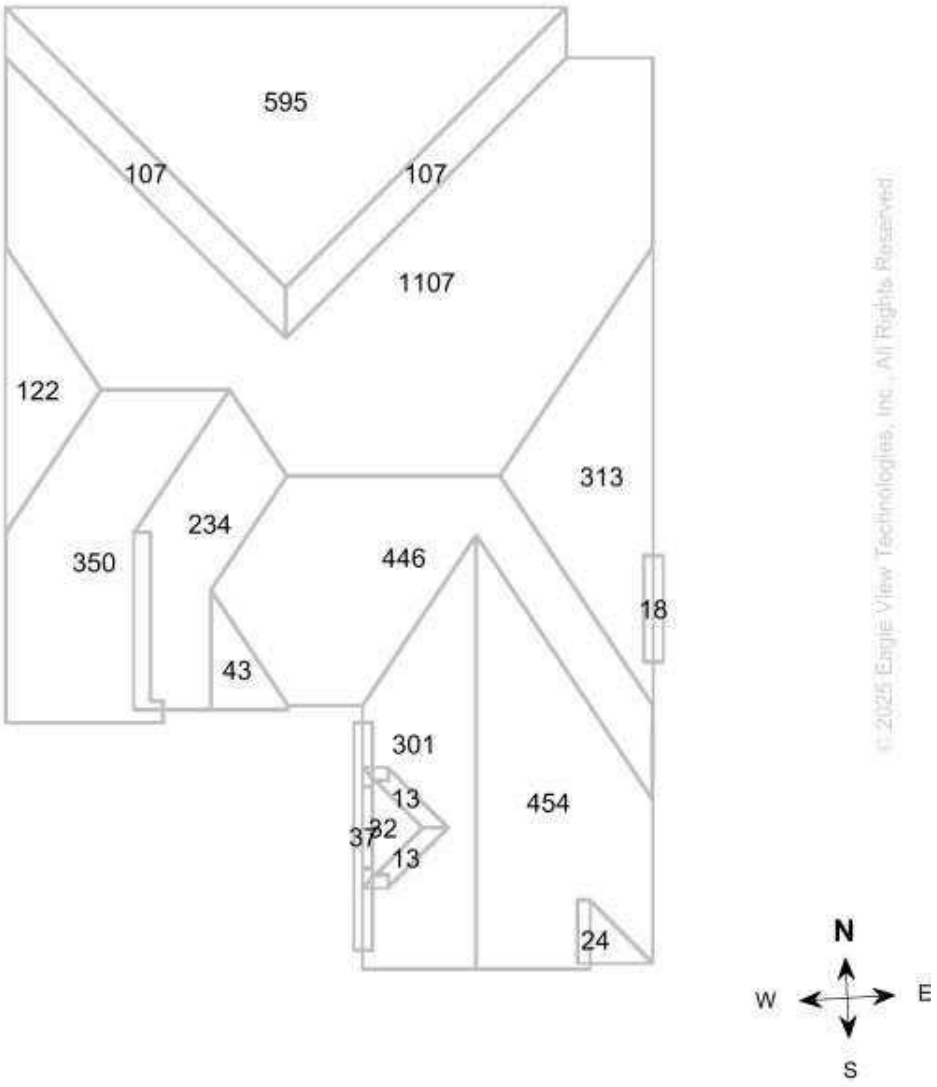

Note: This diagram shows the square feet of each roof facet (rounded to the nearest foot). The total area in square feet, at the top of this page, is based on the non-rounded values of each roof facet (rounded to the nearest square foot after being totaled).

Disclaimer: This report was produced using EagleView Extended Coverage Technology. Due to a variety of reasons including, but not limited to: tree coverage, poor images, low photo resolution or other blockages; this report DOES NOT offer an accuracy guarantee. EagleView recommends that anyone using this report field verify the yellow-shaded sections.

© 2008-2025 Eagle View Technologies, Inc. and Pictometry International Corp. – All Rights Reserved – Covered by one or more of U.S. Patent Nos. 8,078,436; 8,145,578; 8,170,840; 8,209,152; 8,515,125; 8,825,454; 9,135,737; 8,670,961; 9,514,568; 8,818,770; 8,542,880; 9,244,589; 9,329,749. Other Patents Pending.

Notes Diagram

Roof facets are labeled from smallest to largest (A to Z) for easy reference.

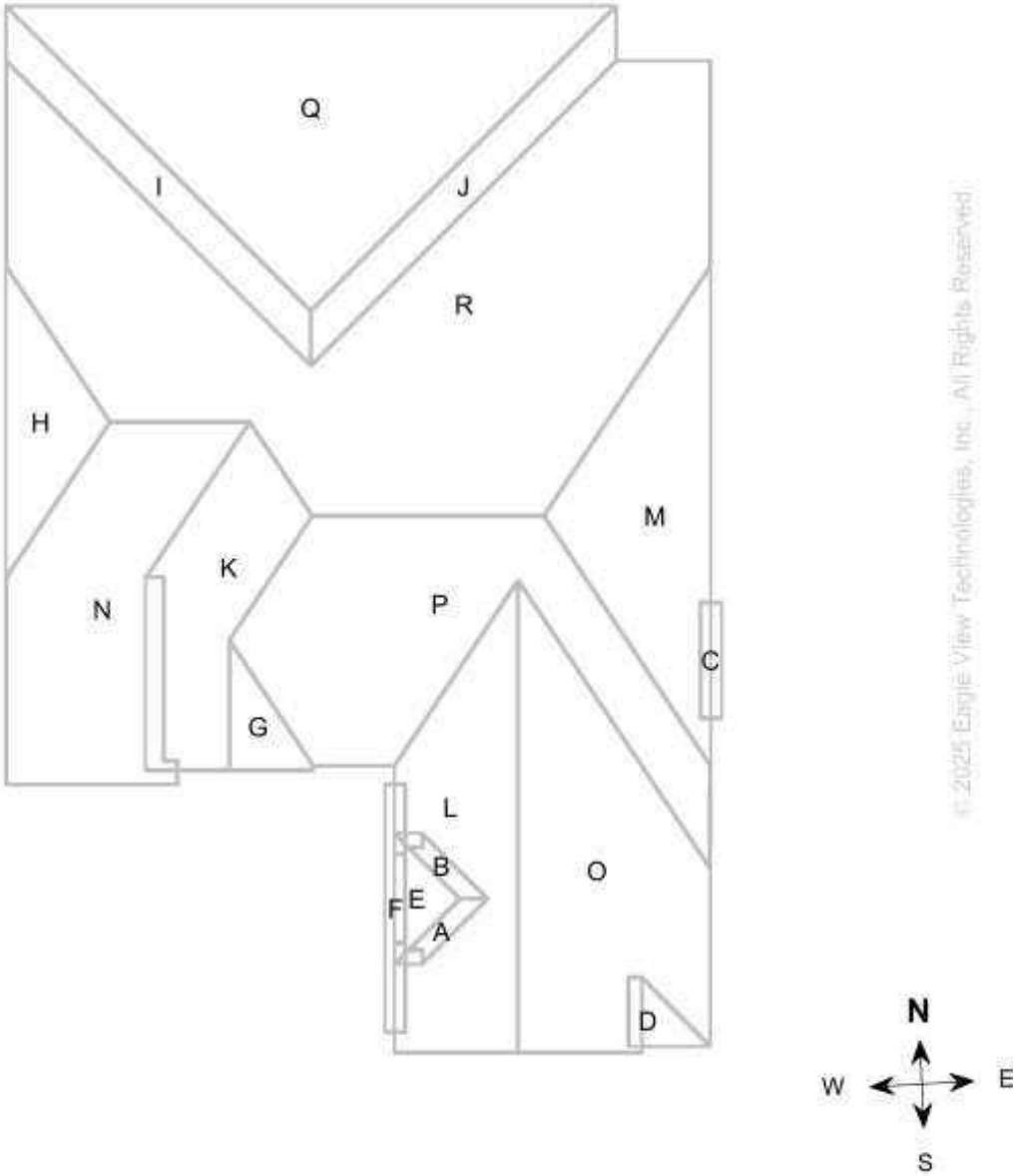

Note: **On-site verification of yellow shaded areas is needed. Details are on the Summary Page.**

© 2008-2025 Eagle View Technologies, Inc. and Pictometry International Corp. – All Rights Reserved – Covered by one or more of U.S. Patent Nos. 8,078,436; 8,145,578; 8,170,840; 8,209,152; 8,515,125; 8,825,454; 9,135,737; 8,670,961; 9,514,568; 8,818,770; 8,542,880; 9,244,589; 9,329,749. Other Patents Pending.

Penetrations Notes Diagram

Penetrations are labeled from smallest to largest for easy reference.

Total Penetrations = 27
Total Penetrations Perimeter = 132 ft

Total Penetrations Area = 45 sq ft
Total Roof Area Less Penetrations = 4,271 sq ft

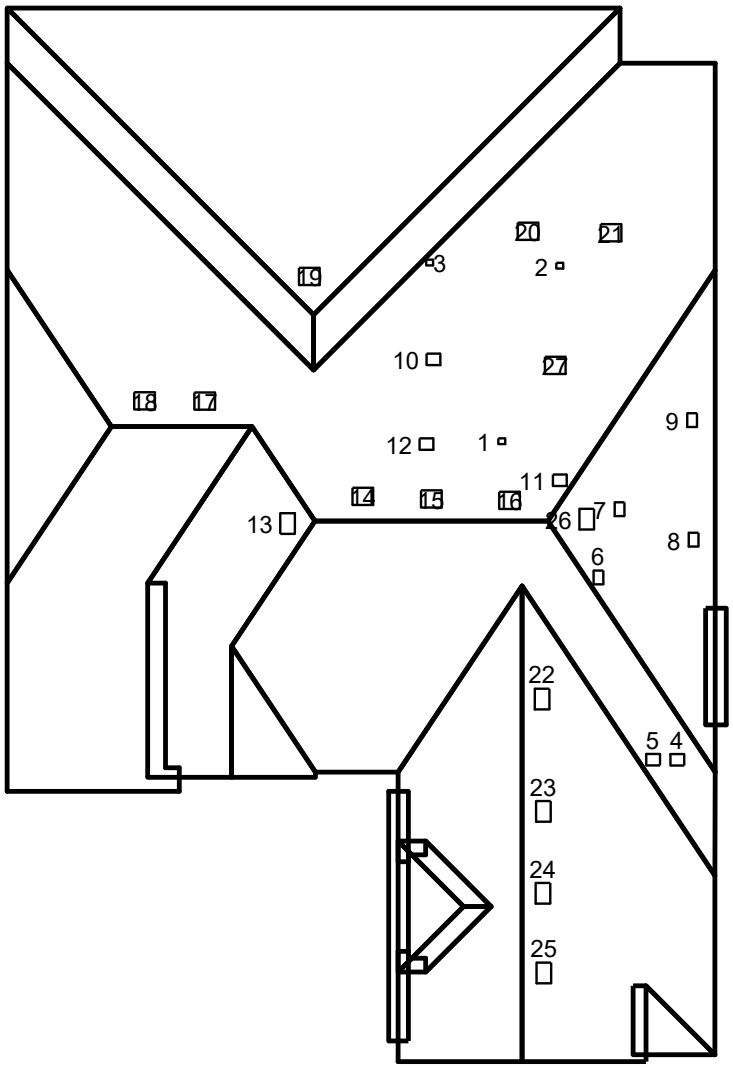

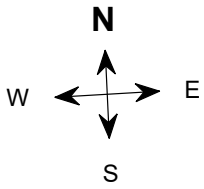

©2025 Eagle View Technologies, Inc., All Rights Reserved.

© 2008-2025 Eagle View Technologies, Inc. and Pictometry International Corp. – All Rights Reserved – Covered by one or more of U.S. Patent Nos. 8,078,436; 8,145,578; 8,170,840; 8,209,152; 8,515,125; 8,825,454; 9,135,737; 8,670,961; 9,514,568; 8,818,770; 8,542,880; 9,244,589; 9,329,749. Other Patents Pending.

Wall Area Diagram

Total Wall Area = 3802.0 sq ft, with 30 facets. Total Wall Area with Windows and Doors = 4437.0 sq ft

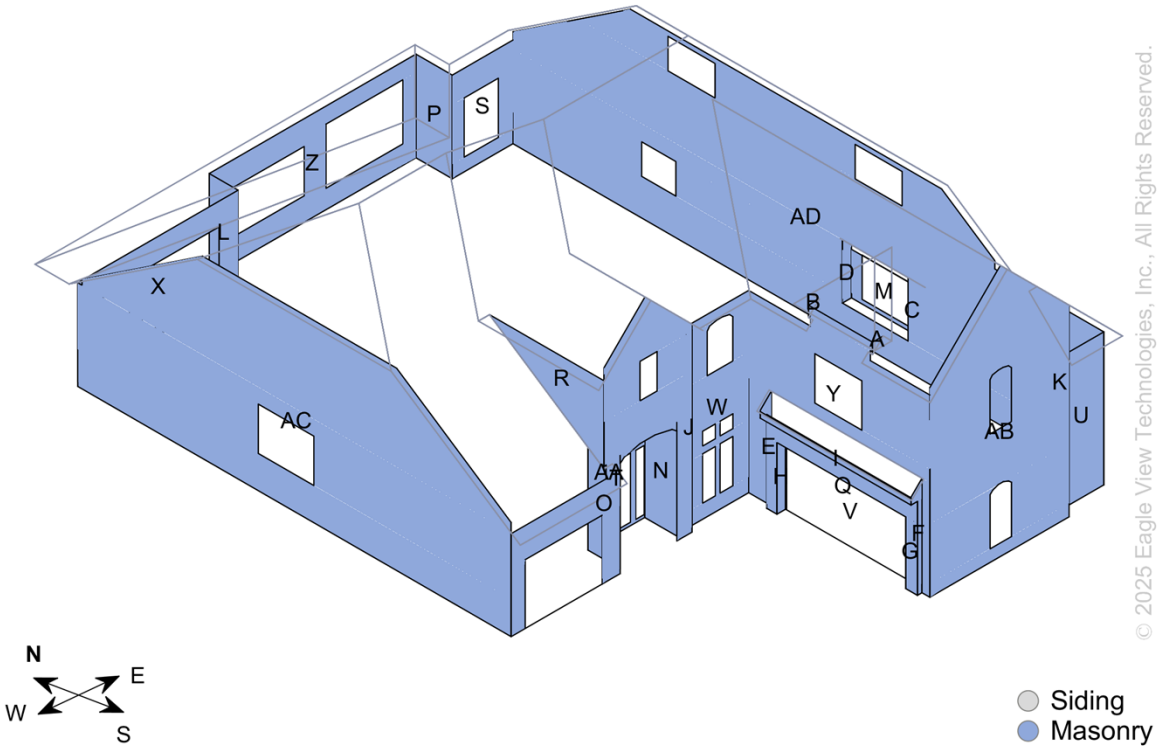

© 2025 Eagle View Technologies, Inc., All Rights Reserved.

North

Wall	Siding Wall Area (ft²)	Masonry Wall Area (ft²)
E	0.0	6.9
Z	0.0	150.9
S	0.0	50.7
G	0.0	7.3
B	0.0	0.8
X	0.0	108.3
D	0.0	6.2
Total	**0.0**	**331.1**

East

Wall	Siding Wall Area (ft²)	Masonry Wall Area (ft²)
J	0.0	14.0
P	0.0	44.7
AD	0.0	1177.2
K	0.0	30.8
O	0.0	43.2
M	0.0	13.0
Total	**0.0**	**1322.9**

South

Wall	Siding Wall Area (ft²)	Masonry Wall Area (ft²)
T	0.0	25.4
W	0.0	116.0
U	0.0	81.6
AB	0.0	385.5
F	0.0	6.9

West

Wall	Siding Wall Area (ft²)	Masonry Wall Area (ft²)
Y	0.0	217.7
AC	0.0	876.7
Q	0.0	58.3
V	0.0	5.2
R	0.0	59.8

© 2008-2025 Eagle View Technologies, Inc. and Pictometry International Corp. – All Rights Reserved – Covered by one or more of U.S. Patent Nos. 8,078,436; 8,145,578; 8,170,840; 8,209,152; 8,515,125; 8,825,454; 9,135,737; 8,670,961; 9,514,568; 8,818,770; 8,542,880; 9,244,589; 9,329,749; 9,599,466. Other Patents Pending.

H	0.0	7.3
A	0.0	0.8
AA	0.0	211.9
C	0.0	6.2
Total	**0.0**	**841.6**

I	0.0	11.6
L	0.0	33.9
N	0.0	43.2
Total	**0.0**	**1306.4**

© 2008-2025 Eagle View Technologies, Inc. and Pictometry International Corp. – All Rights Reserved – Covered by one or more of U.S. Patent Nos. 8,078,436; 8,145,578; 8,170,840; 8,209,152; 8,515,125; 8,825,454; 9,135,737; 8,670,961; 9,514,568; 8,818,770; 8,542,880; 9,244,589; 9,329,749; 9,599,466. Other Patents Pending.

Alternate Wall View

Total Wall Area = 3802.0 sq ft, with 30 facets. Total Wall Area with Windows and Doors = 4437.0 sq ft

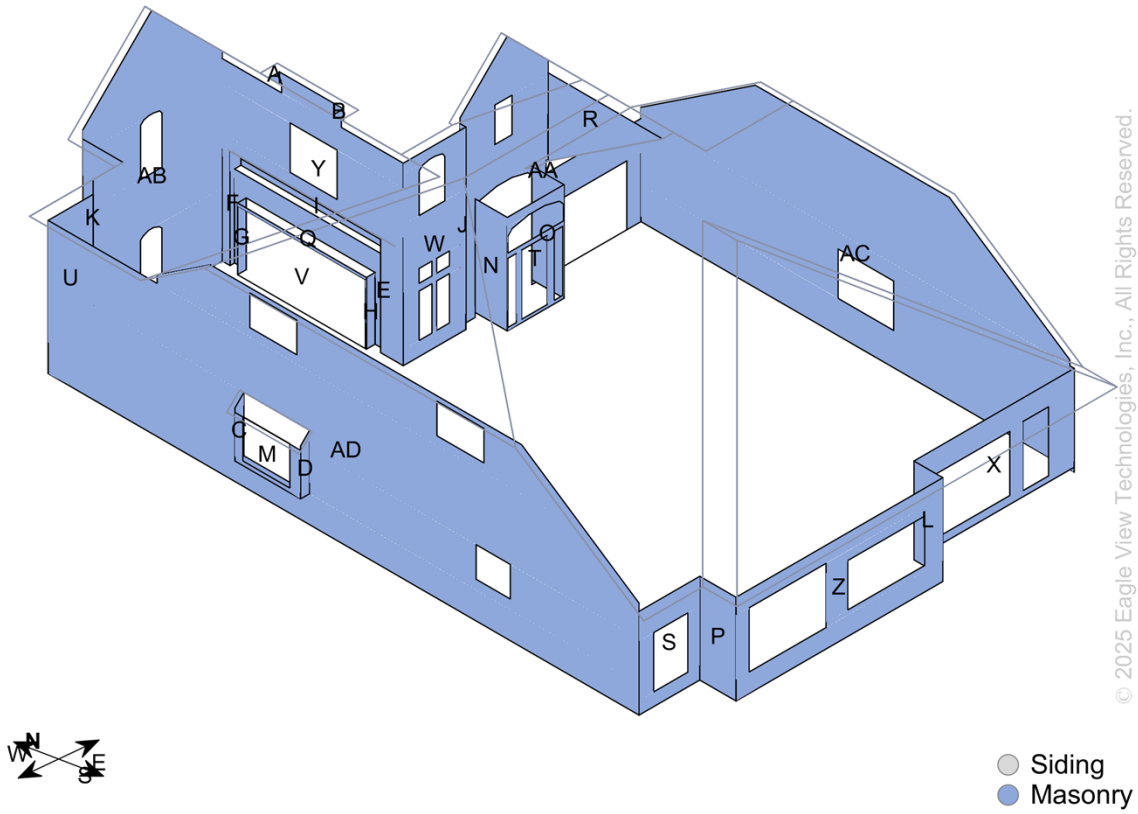

© 2025 Eagle View Technologies, Inc., All Rights Reserved.

Note: Window & door measurements include trim.

North

Wall	Siding Wall Area (ft²)	Masonry Wall Area (ft²)
E	0.0	6.9
Z	0.0	150.9
S	0.0	50.7
G	0.0	7.3
B	0.0	0.8
X	0.0	108.3
D	0.0	6.2
Total	**0.0**	**331.1**

East

Wall	Siding Wall Area (ft²)	Masonry Wall Area (ft²)
J	0.0	14.0
P	0.0	44.7
AD	0.0	1177.2
K	0.0	30.8
O	0.0	43.2
M	0.0	13.0
Total	**0.0**	**1322.9**

South

Wall	Siding Wall Area (ft²)	Masonry Wall Area (ft²)
T	0.0	25.4
W	0.0	116.0
U	0.0	81.6

West

Wall	Siding Wall Area (ft²)	Masonry Wall Area (ft²)
Y	0.0	217.7
AC	0.0	876.7
Q	0.0	58.3

© 2008-2025 Eagle View Technologies, Inc. and Pictometry International Corp. – All Rights Reserved – Covered by one or more of U.S. Patent Nos. 8,078,436; 8,145,578; 8,170,840; 8,209,152; 8,515,125; 8,825,454; 9,135,737; 8,670,961; 9,514,568; 8,818,770; 8,542,880; 9,244,589; 9,329,749; 9,599,466. Other Patents Pending.

AB	0.0	385.5
F	0.0	6.9
H	0.0	7.3
A	0.0	0.8
AA	0.0	211.9
C	0.0	6.2
Total	**0.0**	**841.6**

V	0.0	5.2
R	0.0	59.8
I	0.0	11.6
L	0.0	33.9
N	0.0	43.2
Total	**0.0**	**1306.4**

© 2008-2025 Eagle View Technologies, Inc. and Pictometry International Corp. – All Rights Reserved – Covered by one or more of U.S. Patent Nos. 8,078,436; 8,145,578; 8,170,840; 8,209,152; 8,515,125; 8,825,454; 9,135,737; 8,670,961; 9,514,568; 8,818,770; 8,542,880; 9,244,589; 9,329,749; 9,599,466. Other Patents Pending.

Window and Door Diagram

Total Window and Door Area = 633.7 sq ft, with 25 windows and doors Total Window and Door Perimeter = 488.1 ft

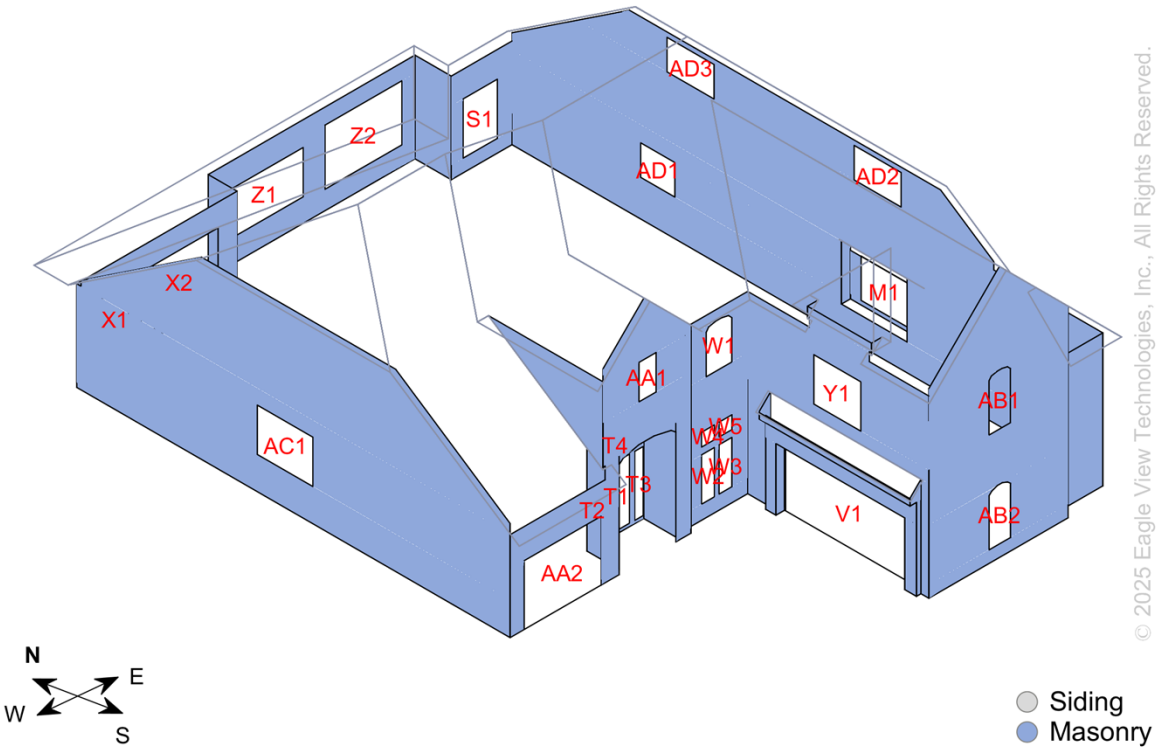

© 2025 Eagle View Technologies, Inc., All Rights Reserved.

North

Window/Door	Area (ft²)	Perimeter (ft)	Dimensions W x H (ft)
S1	24.0	20.0	4.0 x 6.0
X1	21.0	20.0	3.0 x 7.0
X2	58.5	31.0	9.0 x 6.5
Z1	45.0	28.0	9.0 x 5.0
Z2	58.5	31.0	9.0 x 6.5
Total	**207.0**	**130.0**	**n/a**

East

Window/Door	Area (ft²)	Perimeter (ft)	Dimensions W x H (ft)
M1	24.7	20.0	5.5 x 4.5
AD1	14.0	15.0	4.0 x 3.5
AD2	19.2	18.0	5.5 x 3.5
AD3	19.2	18.0	5.5 x 3.5
Total	**77.1**	**71.0**	**n/a**

South

Window/Door	Area (ft²)	Perimeter (ft)	Dimensions W x H (ft)
T1	21.0	20.0	3.0 x 7.0
T2	7.0	16.0	1.0 x 7.0
T3	7.0	16.0	1.0 x 7.0
T4	15.8	17.0	6.5 x 2.7
W1	14.8	15.5	3.0 x 5.1
W2	7.5	13.0	1.5 x 5.0
W3	7.5	13.0	1.5 x 5.0

West

Window/Door	Area (ft²)	Perimeter (ft)	Dimensions W x H (ft)
V1	104.4	44.0	15.0 x 7.0
Y1	27.5	21.0	5.5 x 5.0
AC1	32.5	23.0	6.5 x 5.0
Total	**164.4**	**88.0**	**n/a**

© 2008-2025 Eagle View Technologies, Inc. and Pictometry International Corp. – All Rights Reserved – Covered by one or more of U.S. Patent Nos. 8,078,436; 8,145,578; 8,170,840; 8,209,152; 8,515,125; 8,825,454; 9,135,737; 8,670,961; 9,514,568; 8,818,770; 8,542,880; 9,244,589; 9,329,749; 9,599,466. Other Patents Pending.

W4	2.2	6.0	1.5 x 1.5
W5	2.2	6.0	1.5 x 1.5
AA1	8.0	12.0	2.0 x 4.0
AA2	62.8	32.0	9.0 x 7.0
AB1	14.7	16.3	2.5 x 6.0
AB2	14.7	16.3	2.5 x 6.0
Total	**185.2**	**199.1**	**n/a**

© 2008-2025 Eagle View Technologies, Inc. and Pictometry International Corp. – All Rights Reserved – Covered by one or more of U.S. Patent Nos. 8,078,436; 8,145,578; 8,170,840; 8,209,152; 8,515,125; 8,825,454; 9,135,737; 8,670,961; 9,514,568; 8,818,770; 8,542,880; 9,244,589; 9,329,749; 9,599,466. Other Patents Pending.

North Elevation Diagram

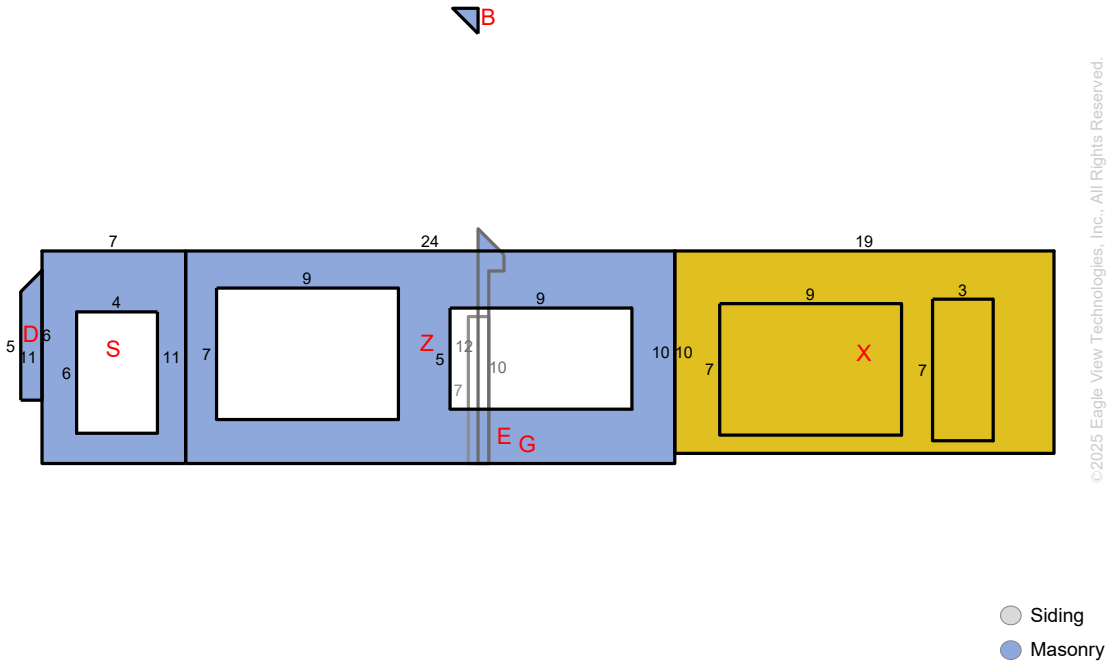

©2025 Eagle View Technologies, Inc., All Rights Reserved.

Top of Siding Walls = 0.0 ft
Bottom of Siding Wall = 0.0 ft

Wall	Siding Wall Area (ft^2)	Masonry Wall Area (ft^2)	Window & Door Area (ft^2)	Window & Door Perimeter (ft)	Window & Door Count
E	0.0	6.9	0	0	0
Z	0.0	150.9	103.5	59.0	2
S	0.0	50.7	24.0	20.0	1
G	0.0	7.3	0	0	0
B	0.0	0.8	0	0	0
X	0.0	108.3	79.5	51.0	2
D	0.0	6.2	0	0	0
Total	**0.0**	**331.1**	**207.0**	**130.0**	**5**

Note: On-site verification of yellow shaded areas is needed. Details are on the Wall Measurement Summary Page. This diagram shows segment lengths rounded to the nearest whole number. The window & door and wall area in square feet (rounded to the nearest tenth) is based on the actual (non-rounded) value of each segment length.

© 2008-2025 Eagle View Technologies, Inc. and Pictometry International Corp. – All Rights Reserved – Covered by one or more of U.S. Patent Nos. 8,078,436; 8,145,578; 8,170,840; 8,209,152; 8,515,125; 8,825,454; 9,135,737; 8,670,961; 9,514,568; 8,818,770; 8,542,880; 9,244,589; 9,329,749; 9,599,466. Other Patents Pending.

East Elevation Diagram

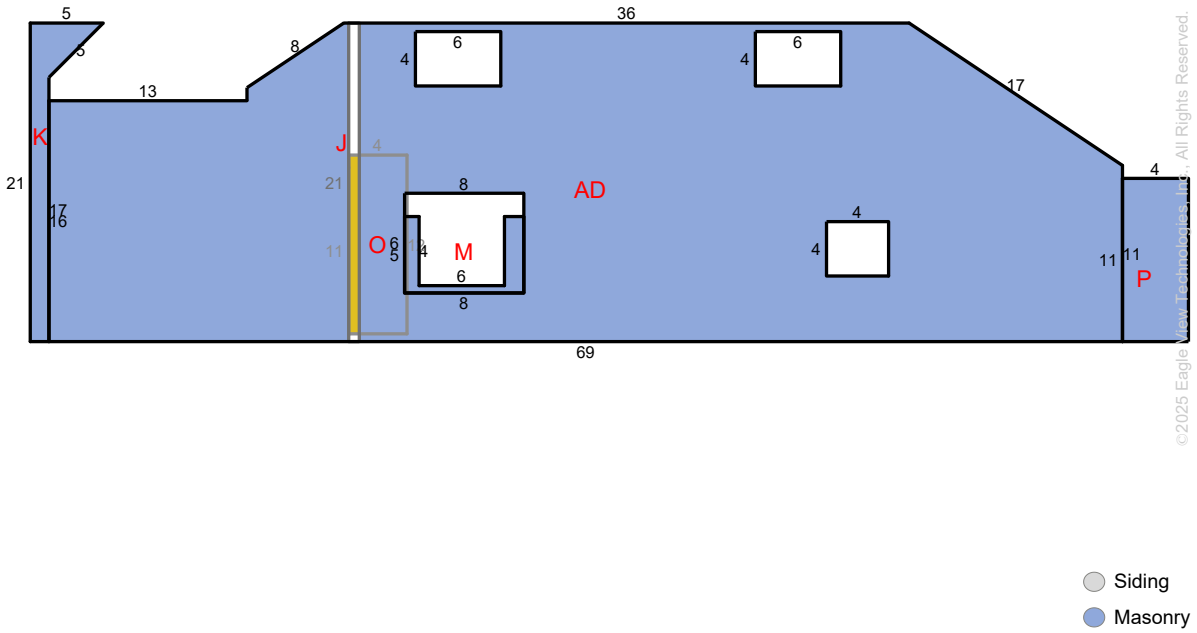

©2025 Eagle View Technologies, Inc. All Rights Reserved.

Top of Siding Walls = 0.0 ft
Bottom of Siding Walls = 0.0 ft

Wall	Siding Wall Area (ft^2)	Masonry Wall Area (ft^2)	Window & Door Area (ft^2)	Window & Door Perimeter (ft)	Window & Door Count
J	0.0	14.0	0	0	0
P	0.0	44.7	0	0	0
AD	0.0	1177.2	52.4	51.0	3
K	0.0	30.8	0	0	0
O	0.0	43.2	0	0	0
M	0.0	13.0	24.7	20.0	1
Total	**0.0**	**1322.9**	**77.1**	**71.0**	**4**

Note: On-site verification of yellow shaded areas is needed. Details are on the Wall Measurement Summary Page. This diagram shows segment lengths rounded to the nearest whole number. The window & door and wall area in square feet (rounded to the nearest tenth) is based on the actual (non-rounded) value of each segment length.

© 2008-2025 Eagle View Technologies, Inc. and Pictometry International Corp. – All Rights Reserved – Covered by one or more of U.S. Patent Nos. 8,078,436; 8,145,578; 8,170,840; 8,209,152; 8,515,125; 8,825,454; 9,135,737; 8,670,961; 9,514,568; 8,818,770; 8,542,880; 9,244,589; 9,329,749; 9,599,466. Other Patents Pending.

South Elevation Diagram

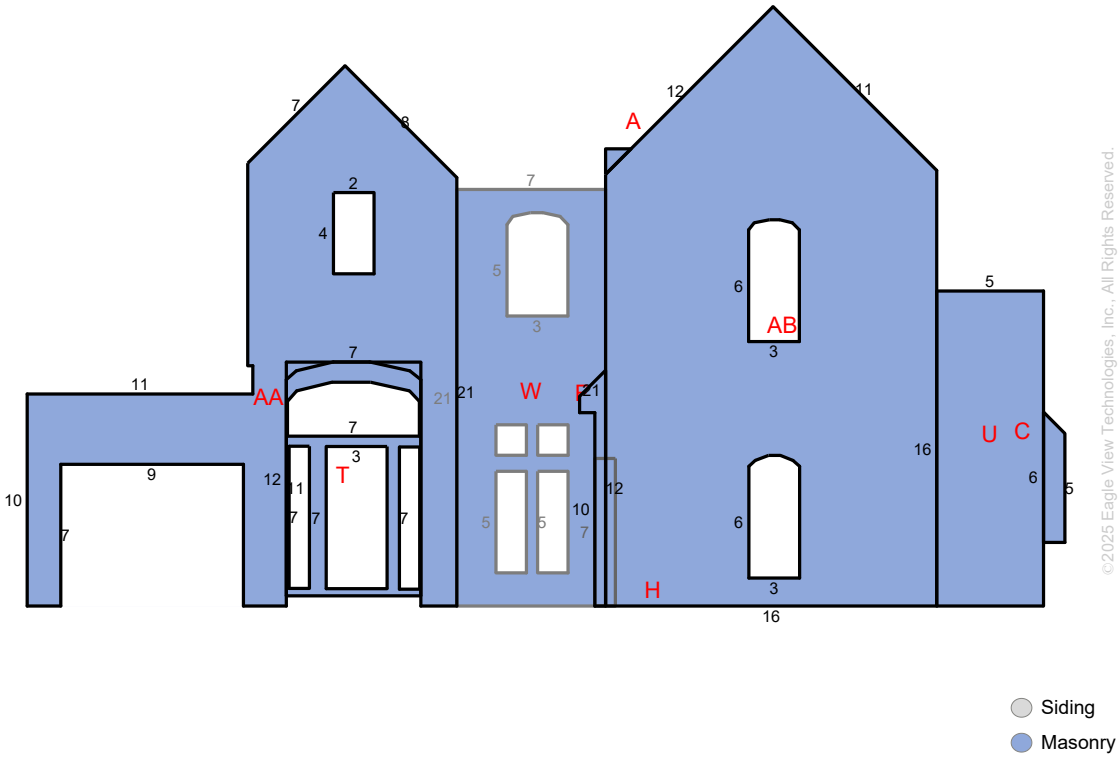

©2025 Eagle View Technologies, Inc., All Rights Reserved.

Top of Siding Walls = 0.0 ft
Bottom of Siding Walls = 0.0 ft

Wall	Siding Wall Area (ft^2)	Masonry Wall Area (ft^2)	Window & Door Area (ft^2)	Window & Door Perimeter (ft)	Window & Door Count
T	0.0	25.4	50.8	69.0	4
W	0.0	116.0	34.2	53.5	5
U	0.0	81.6	0	0	0
AB	0.0	385.5	29.4	32.6	2
F	0.0	6.9	0	0	0
H	0.0	7.3	0	0	0
A	0.0	0.8	0	0	0
AA	0.0	211.9	70.8	44.0	2
C	0.0	6.2	0	0	0
Total	**0.0**	**841.6**	**185.2**	**199.1**	**13**

Note: On-site verification of yellow shaded areas is needed. Details are on the Wall Measurement Summary Page. This diagram shows segment lengths rounded to the nearest whole number. The window & door and wall area in square feet (rounded to the nearest tenth) is based on the actual (non-rounded) value of each segment length.

© 2008-2025 Eagle View Technologies, Inc. and Pictometry International Corp. – All Rights Reserved – Covered by one or more of U.S. Patent Nos. 8,078,436; 8,145,578; 8,170,840; 8,209,152; 8,515,125; 8,825,454; 9,135,737; 8,670,961; 9,514,568; 8,818,770; 8,542,880; 9,244,589; 9,329,749; 9,599,466. Other Patents Pending.

West Elevation Diagram

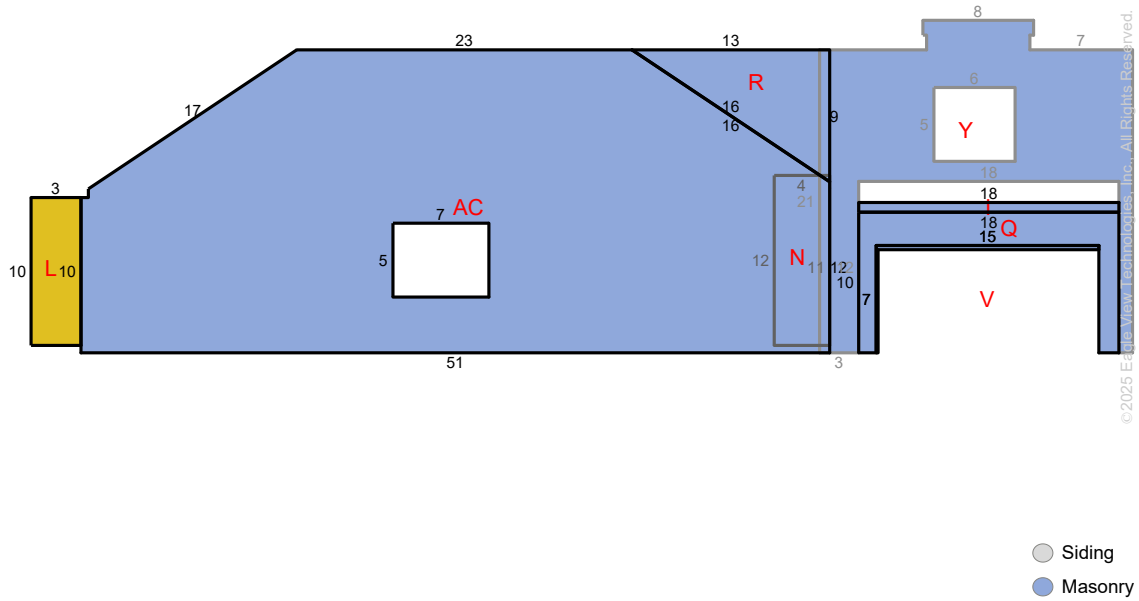

Top of Siding Walls	=	0.0 ft
Bottom of Siding Walls	=	0.0 ft

Wall	Siding Wall Area (ft^2)	Masonry Wall Area (ft^2)	Window & Door Area (ft^2)	Window & Door Perimeter (ft)	Window & Door Count
Y	0.0	217.7	27.5	21.0	1
AC	0.0	876.7	32.5	23.0	1
Q	0.0	58.3	0	0	0
V	0.0	5.2	104.4	44.0	1
R	0.0	59.8	0	0	0
I	0.0	11.6	0	0	0
L	0.0	33.9	0	0	0
N	0.0	43.2	0	0	0
Total	**0.0**	**1306.4**	**164.4**	**88.0**	**3**

Note: On-site verification of yellow shaded areas is needed. Details are on the Wall Measurement Summary Page. This diagram shows segment lengths rounded to the nearest whole number. The window & door and wall area in square feet (rounded to the nearest tenth) is based on the actual (non-rounded) value of each segment length.

© 2008-2025 Eagle View Technologies, Inc. and Pictometry International Corp. – All Rights Reserved – Covered by one or more of U.S. Patent Nos. 8,078,436; 8,145,578; 8,170,840; 8,209,152; 8,515,125; 8,825,454; 9,135,737; 8,670,961; 9,514,568; 8,818,770; 8,542,880; 9,244,589; 9,329,749; 9,599,466. Other Patents Pending.

West Elevation Details continued...

© 2008-2025 Eagle View Technologies, Inc. and Pictometry International Corp. – All Rights Reserved – Covered by one or more of U.S. Patent Nos. 8,078,436; 8,145,578; 8,170,840; 8,209,152; 8,515,125; 8,825,454; 9,135,737; 8,670,961; 9,514,568; 8,818,770; 8,542,880; 9,244,589; 9,329,749; 9,599,466. Other Patents Pending.

Report Summary

Below is a measurement summary using the values presented in this report.

All Structures

Areas per Pitch

Roof Pitches	8/12	12/12
Area (sq ft)	2712.3	1603.3
% of Roof	62.8%	37.1%

Disclaimer: The table above lists each pitch on this roof and the total area and percent (both rounded) of the roof with that pitch. With Full House™ , only the predominant pitch may be noted due to resolution of photo. With Full House™ , EagleView recommends field verifying yellow-shaded sections and pitch utilizing the Facet Area Based Upon Pitch Table below.

Structure Complexity

Simple	Normal	Complex

Waste Calculation

NOTE: This waste calculation table is for asphalt shingle roofing applications. All values in table below only include roof areas of 3/12 pitch or greater. For total measurements of all pitches, please refer to the **Lengths, Areas, and Pitches** section below.

Waste %	**0%**	3%	8%	13%	16%	**18%**	20%	23%	28%
Area (Sq ft)	**4316**	4446	4662	4878	5007	**5093**	5180	5309	5525
Squares *	**43.33**	44.66	46.66	49.00	50.33	**51.00**	52.00	53.33	55.33
	Measured					**Suggested**			

* Squares are rounded up to the 1/3 of a square

Additional materials needed for ridge, hip, and starter lengths are not included in the above table. The provided suggested waste factor is intended to serve as a guide—actual waste percentages may differ based upon several variables that EagleView does not control. These waste factor variables include, but are not limited to, individual installation techniques, crew experiences, asphalt shingle material subtleties, and potential salvage from the site. Individual results may vary from the suggested waste factor that EagleView has provided. The suggested waste is not to replace or substitute for experience or judgment as to any given replacement or repair work.

Report Comments

Due to obstructions in available images of this property, please verify measurements on portion of structure highlighted in yellow.

Penetrations	1-3	4-12	13-27							
Area (sq ft)	0.2	1	2.3							
Perimeter (ft)	2	4	6							

Any measured penetration smaller than 3x3 feet may need field verification. Accuracy is not guaranteed. The total penetration area is not subtracted from the total roof area.

† Rakes are defined as roof edges that are sloped (not level).
‡ Eaves are defined as roof edges that are not sloped and level.

© 2008-2025 Eagle View Technologies, Inc. and Pictometry International Corp. – All Rights Reserved – Covered by one or more of U.S. Patent Nos. 8,078,436; 8,145,578; 8,170,840; 8,209,152; 8,515,125; 8,825,454; 9,135,737; 8,670,961; 9,514,568; 8,818,770; 8,542,880; 9,244,589; 9,329,749. Other Patents Pending.

All Structures Totals



Total Roof Facets = 18
Total Penetrations = 27

Lengths, Areas and Pitches
Ridges = 78 ft (6 Ridges)
Hips = 198 ft (11 Hips).
Valleys = 162 ft (8 Valleys)
Rakes† = 117 ft (13 Rakes)
Eaves/Starter‡ = 231 ft (20 Eaves)
Drip Edge (Eaves + Rakes) = 348 ft (33 Lengths)
Parapet Walls = 0 (0 Lengths).
Flashing = 33 ft (9 Lengths)
Step flashing = 30 ft (6 Lengths)
Total Penetrations Area = 45 sq ft
Total Roof Area Less Penetrations = 4,271 sq ft
Total Penetrations Perimeter = 132 ft
Predominant Pitch = 8/12
Total Area (All Pitches) = 4,316 sq ft

Property Location
Longitude = -96.6231964
Latitude = 33.2793146

Notes
This was ordered as a residential property. There were no changes to the structure in the past four years.

Online Maps

Online map of property
http://maps.google.com/maps?f=g&source=s_q&hl=en&geocode=&q=Rock+Falls+Dr,McKinney,TX,75071
Directions from NIMBUS GENERAL CONTRACTORS, LLC to this property
http://maps.google.com/maps?f=d&source=s_d&saddr=1308+Caney+Creek+Ln,Mckinney,TX,75071&daddr=Rock+Falls+Dr,McKinney,TX,75071

Disclaimer: This report was produced using EagleView Extended Coverage Technology. Due to a variety of reasons including, but not limited to: tree coverage, poor images, low photo resolution or other blockages; this report DOES NOT offer an accuracy guarantee. EagleView recommends that anyone using this report field verify the yellow-shaded sections.

© 2008-2025 Eagle View Technologies, Inc. and Pictometry International Corp. – All Rights Reserved – Covered by one or more of U.S. Patent Nos. 8,078,436; 8,145,578; 8,170,840; 8,209,152; 8,515,125; 8,825,454; 9,135,737; 8,670,961; 9,514,568; 8,818,770; 8,542,880; 9,244,589; 9,329,749. Other Patents Pending.

Wall Measurement Summary

Below is a measurement summary using the values presented in this report.

All Structures

Wall Area Waste Calculations

Siding Material

Waste %	0%	10%	11%	12%	13%	14%	15%	20%
Area (ft^2)	0	0	0	0	0	0	0	0
Squares	0	0	0	0	0	0	0	0

Masonry Material

Waste %	0%	10%	11%	12%	13%	14%	15%	20%
Area (ft^2)	3,802	4,182	4,220	4,258	4,296	4,334	4,372	4,562
Squares	38	41.8	42.2	42.6	43	43.3	43.7	45.6

The tables above show the total wall area excluding windows and doors, based upon different waste percentages. The waste factor is subject to the complexity of the structure, image quality, siding techniques and your experience. Please consider this when calculating appropriate waste percentages. Note that only the wall area is included in these waste calculations. Accessories may require additional material.

Total Lengths & Areas

Wall Area excluding Windows & Doors

Total = 3802.0 ft^2
Siding = 0.0 ft^2
Masonry = 3802.0 ft^2

General Totals

Wall Facets = 30
Windows & Doors = 25
Window and Door Area = 633.7 ft^2
Window & Door Perimeter = 488.1 ft
Fascia (Eaves + Rakes) = 348 ft
Top of Siding Walls = 0.0 ft
Bottom of Siding Walls = 0.0 ft

Property Location

Longitude	=	-96.6231964
Latitude	=	33.2793146

Corner Totals

	Siding to Siding	Masonry to Masonry	Siding to Masonry	Total
Inside Corners	0.0 ft	156.2 ft	0.0 ft	**156.2 ft**
Outside Corners	0.0 ft	222.5 ft	0.0 ft	**222.5 ft**
Inside Corners > 90	0.0 ft	0.0 ft	0.0 ft	**0.0 ft**
Outside Corners > 90	0.0 ft	0.0 ft	0.0 ft	**0.0 ft**

Notes

There were no changes to the structure in the past four years.

Report Comments

Due to obstructions in available images of this property, please verify measurements on portion of structure highlighted in yellow.

Wall measurements should be field verified to confirm accuracy. Wall areas assume that flat soffits exist at the eaves. If sloped soffits are present, wall height and wall area measurements will likely be off.

© 2008-2025 Eagle View Technologies, Inc. and Pictometry International Corp. – All Rights Reserved – Covered by one or more of U.S. Patent Nos. 8,078,436; 8,145,578; 8,170,840; 8,209,152; 8,515,125; 8,825,454; 9,135,737; 8,670,961; 9,514,568; 8,818,770; 8,542,880; 9,244,589; 9,329,749. Other Patents Pending.

Facet Area (sq ft) Based Upon Pitch

The area for each facet appears in the column under the appropriate pitch.

Facet	Pitch(inches per foot)										
	0	2	4	6	8	10	12	14	16	18	20
A	9.5	9.6	10.0	10.6	11.4	12.4	13.4	14.6	15.8	17.1	18.5
B	9.5	9.6	10.0	10.6	11.4	12.4	13.4	14.6	15.8	17.1	18.5
C	12.7	12.9	13.4	14.2	15.3	16.5	18.0	19.5	21.2	22.9	24.7
D	17.2	17.4	18.1	19.2	20.7	22.4	24.3	26.4	28.7	31.0	33.4
E	22.6	22.9	23.8	25.3	27.2	29.4	32.0	34.7	37.7	40.7	43.9
F	25.9	26.3	27.3	29.0	31.1	33.7	36.6	39.8	43.2	46.7	50.3
G	30.1	30.5	31.7	33.7	36.2	39.2	42.6	46.3	50.2	54.3	58.5
H	86.0	87.2	90.7	96.2	103.4	111.9	121.6	132.1	143.3	155.0	167.2
I	89.0	90.2	93.8	99.5	107.0	115.9	125.9	136.8	148.3	160.4	173.0
J	89.0	90.2	93.8	99.5	107.0	115.9	125.9	136.8	148.3	160.4	173.0
K	165.3	167.6	174.2	184.8	198.7	215.2	233.8	254.0	275.5	298.0	321.3
L	212.9	215.8	224.4	238.0	255.9	277.1	301.1	327.1	354.8	383.8	413.8
M	221.1	224.1	233.1	247.2	265.7	287.8	312.7	339.7	368.5	398.6	429.7
N	291.3	295.3	307.1	325.7	350.1	379.2	412.0	447.6	485.5	525.1	566.2
O	321.0	325.4	338.4	358.9	385.8	417.8	454.0	493.2	535.0	578.7	623.9
P	371.0	376.1	391.1	414.8	445.9	482.9	524.7	570.1	618.3	668.8	721.1
Q	495.1	501.9	521.9	553.5	595.0	644.5	700.2	760.8	825.2	892.6	962.3
R	921.3	934.0	971.1	1030.0	1107.3	1199.3	1302.9	1415.7	1535.5	1660.9	1790.7
Total	3390	3437	3574	3791	4075	4414	4795	5210	5651	6112	6590

Each value is rounded to the nearest square foot. The totals are based on the unrounded values.

Disclaimer: This report was produced using EagleView Extended Coverage Technology. Due to a variety of reasons including, but not limited to: tree coverage, poor images, low photo resolution or other blockages; this report DOES NOT offer an accuracy guarantee. EagleView recommends that anyone using this report field verify the yellow-shaded sections.

© 2008-2025 Eagle View Technologies, Inc. and Pictometry International Corp. – All Rights Reserved – Covered by one or more of U.S. Patent Nos. 8,078,436; 8,145,578; 8,170,840; 8,209,152; 8,515,125; 8,825,454; 9,135,737; 8,670,961; 9,514,568; 8,818,770; 8,542,880; 9,244,589; 9,329,749. Other Patents Pending.